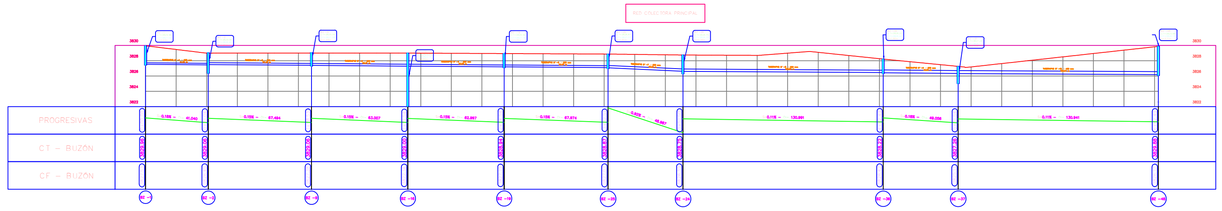

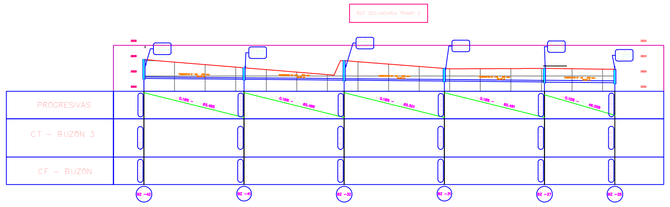

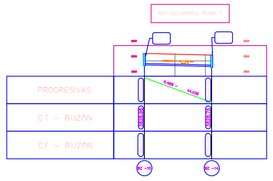

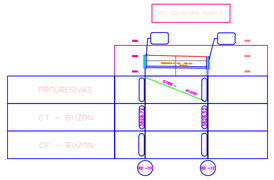

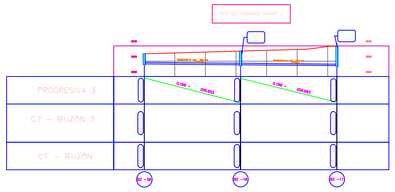

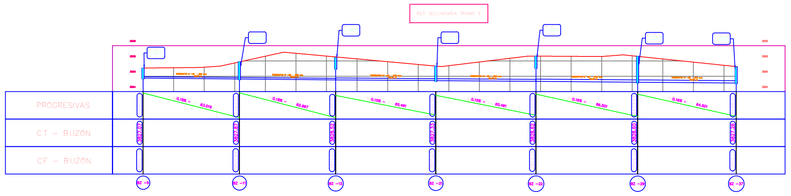

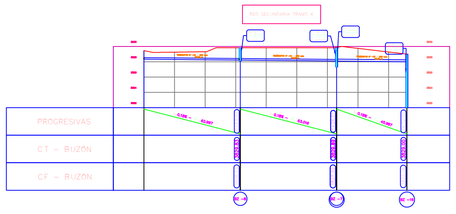

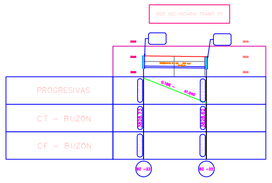

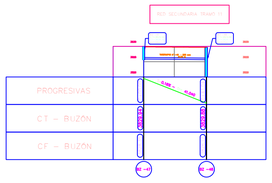

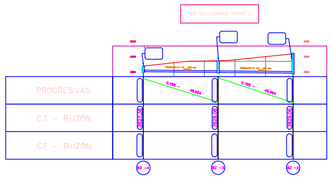

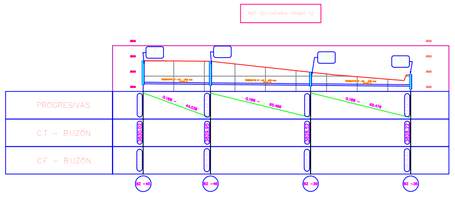

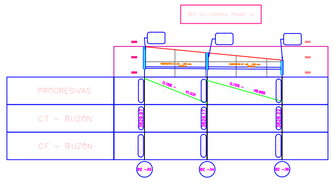

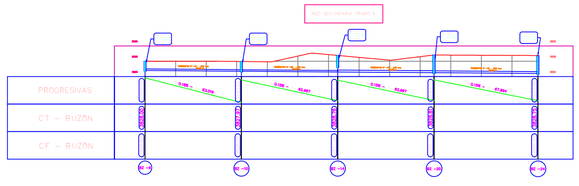

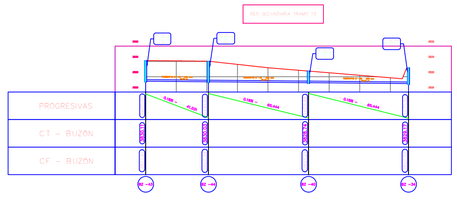

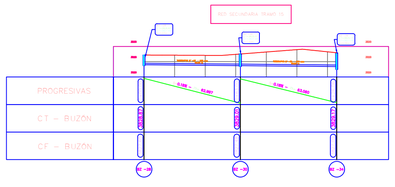

UPeU
UNIVERSIDAD PERUANA UNIÓN

NORTE

Universidad Peruana Unión
Carretera Salida a Arequipa Km. 6
Chullunquiani, Av. Héroes de la
Guerra del Pacífico, Juliaca.
COORDENADAS:
Geograficas: 15°30'48"s–70°11'03"w
Utm: 372891.5,E–8284566.5,N 3888.4,Z

LEYENDA

- Área a urbanizar
- Numeración de manzanas — M1–M2–M3
- Dirección de agua residual
- Número de lotización — 1–2–3–4–5
- Futuros buzones para red de alcantarillado
- PTAR
- Cuerpo de agua
- Acometidas
- Red colectora principal
- Ramales colectores

Presentado por:
- Trujillo Pajsi Alexis Romario
- Chambi Mamani Jhon Elvis
- Vilca Machaca Arnaldo
- Vargas Patiño Sebastian
- Hilasaca Barrios Kevin Samuel
- Nuñez Ochoa Kevin Anderson

Departamento: PUNO
Provincia: SAN ROMAN
Distrito: JULIACA

Facultad: INGENIERÍA Y ARQUITECTURA
E.p: INGENIERÍA CIVIL
Curso: AGUA POTABLE Y SANEAMIENTO
Ciclo: VIII - G3

PROYECTO:
ABASTECIMIENTO DE AGUA POTABLE Y ALCANTARILLADO SANITARIO AL MARGEN IZQUIERDO DE LA UNIVERSIDAD PERUANA UNIÓN, SEDE JULIACA, SAN ROMÁN – PUNO

CONTIENE: PLANO DE PERFILES LONGITUDINALES DE RED DE ALCANTARILLADO POR MANZANAS

Escala grafica:

0 15 30 45 60 75

1: 1500

MTS

25 DE NOV 2025

10